SOUTH-EAST AUSTRALIAN NATIONAL PARKS.

Subtitle

This is some text here placeholder text here.

And here

[HEX-BIN-MAP]

label

here

NATIONAL PARK AREA

Victoria New South Wales Tasmania

[strip jitter plot]

Hiking and 4WD-ing Parks.

[BINNED HEATMAP]

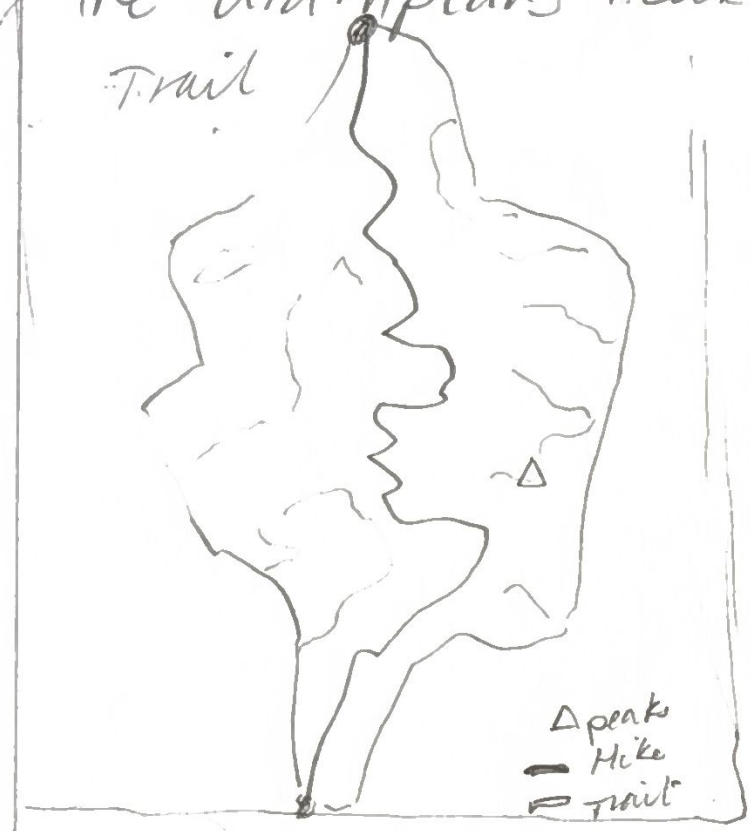
4WD TRACK-LENGTH

NP 1
NP 2
NP 3
NP 4
NP 5

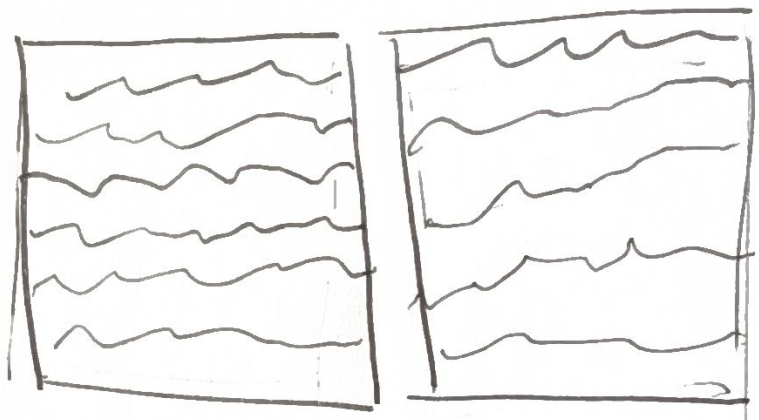
TRAIL DENSITY.

HIKING TRAIL LENGTH.


The Grampians Peak Trail

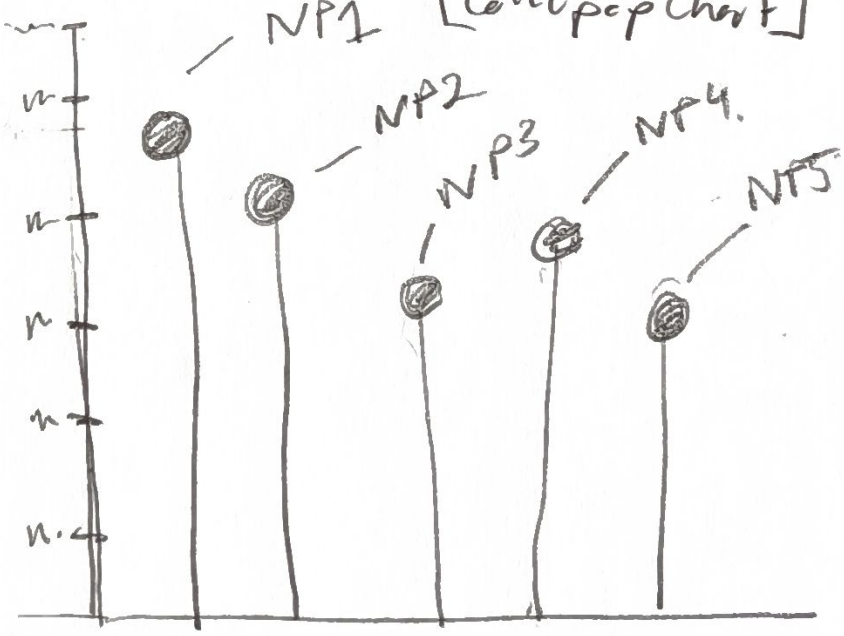







The Most Mountainous Park.

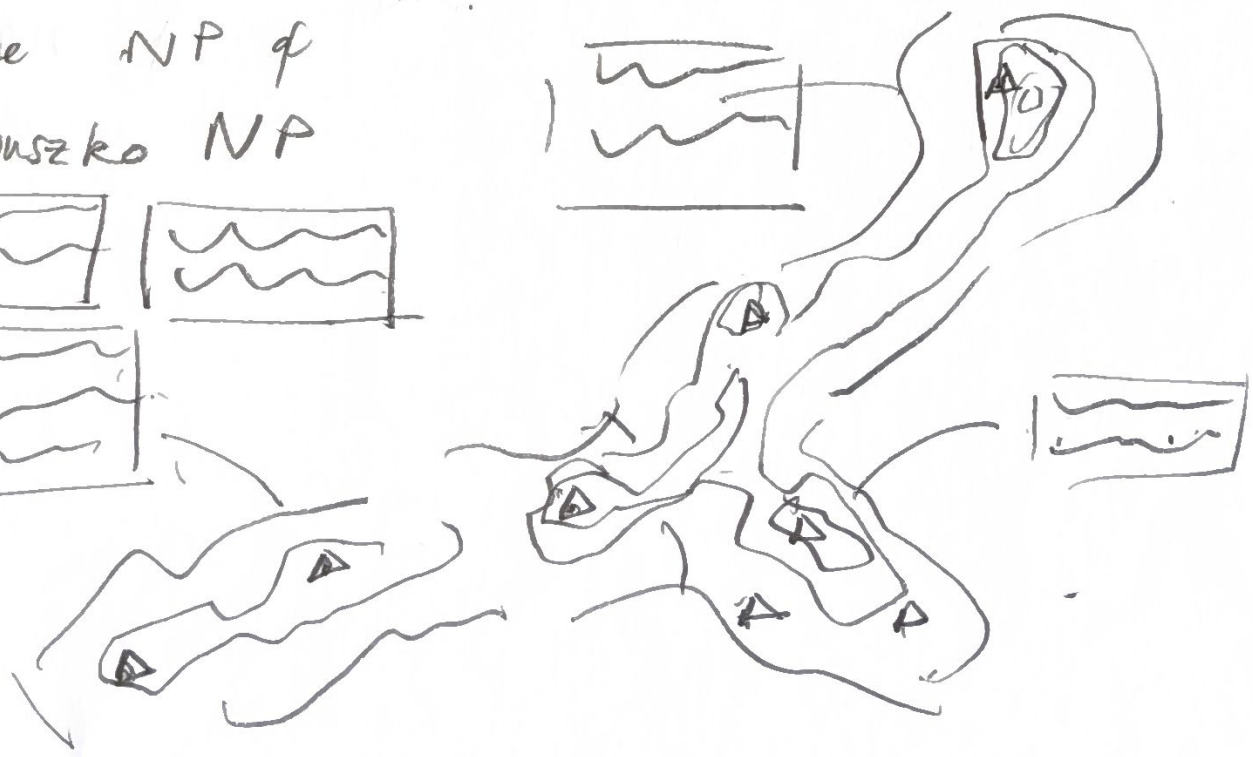




Alpine NP &
Kosciuszko NP








National Parks for Water

WILD RIVERS NP




7650 km of RIVERS




BLUE MOUNTAINS. WATERFALLS.







500 waterfalls.

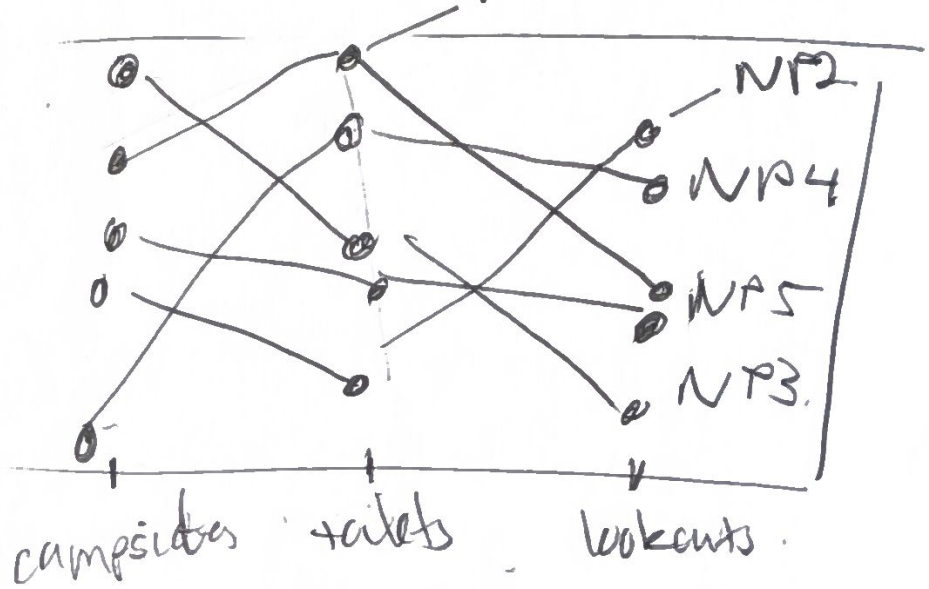
what about Accessibility?



250
100
9
1







Source
& a Hubert
Xavier Chanoine